GT: START | class: property_technical_report | pred: START ✓

ER.A.JEGANATHAN, B.E., M.Sc(RV), F.I.V., M.I.E , Cell: 99525 66638
Off : 0427-4971024

VISHAL ASSOCIATES

Chartered Engineer, Valuer, Consulting Civil Engineer,
Registered Valuer of income Tax & Wealth Tax,
No: 5, R.R.Complex, Annapark Backside, Sankar Nagar, Salem - 636007.
E.Mails: vishalassociatessalem@gmail.com

VALUATION REPORT FOR ADITYA BIRLA FINANCE LIMITED

Branch Name	SALEM FAIRLANDS			**Vertical**	MLAP
Valuer Name	M/S SHARMA ASSOCIATES			**Date of Visit**	08.07.2024
Case Ref. No	MLAP000000318	Valuation Report -	Positive	**Date of Report**	08.07.2024
Contacted Person for property inspection (Name/ Mobile)	Mr. Rahul Sharma - 9092860000 , 8220032222				

BASIC DETAILS

1.Applicant/s Name/s	Mr. Rahul Sharma		
2.Originally type of property	Residential Under Construction	Current Usage	Residential Under Construction
3.Address as per request	Unit 401, Gamma Tower, Embassy TechVillage, Outer Ring Road, Bellandur, Bengaluru, Karnataka - 560103		
Address at site	Flat No. A-708, Suncity Apartments, Sarjapur Road, Iblur, Bengaluru, Karnataka - 560102		
Address as per document	15/C, 8th Main Road, Near Ganapathi Temple, Malleswaram, Bengaluru, Karnataka - 560003		
Micro location of property	**Suramangalam**		
Landmark	Near Perumal Temple		
Latitude:	**11.2356**	Longitude:	**78.094569**

JEGANATHAN AMMASI
Digitally signed by JEGANATHAN AMMASI
Date: 2024.07.22 15:49:39 +05'30'

GT: cont | class: property_technical_report | pred: cont ✓

Main locality of the property: **Salem**		Sub locality of the property **Selathampatti Village**
4.Has the valuator done valuation of this property before this? if yes, when, for whom?		No
5.Building / project category of property (apartment / villas/row house /commercial units/ industrial units) depending upon the developer (category a+ / a / b / c / not applicable)		Residential Under Construction
6.Technical documents received (complete / partly / nil)		Complete
7.Building / project amenities of property (Apartment / villas / row house / commercial unit) depending upon the developer provided (Nil / average / good / excellent / not applicable)		Residential Under Construction
TYPE OF PROPERTY & LOCALITY DETAILS		
8.Type of property	Main type of property (residential/ commercial	Residential Under Construction
	Sub-type of the property	Residential Under Construction
9.Location	Locality (low, medium, posh)	Medium
	Site is (developed, under developed)	under developed
	Proximity to civic amenities/public transport	Yes
	Railway station	Salem Railway Station- 4 km
	Bus stop	Selathampatti Bus stop - 700 m
	Property surrounding infrastructure and development (well-developed / developing / underdeveloped / slums & ews)	Developing
10.Distance from city center		10 kms
11.Condition and approx. width of approach road to reach the property		14'0" wide
12.Is approach road of the property (width >40ft, width 20 to 40ft, width 10 to 20ft, clear width <10ft, mud road, illegal road (without document)		width 10 to 20ft, Tar Road

JEGANATHAN AMMASI Digitally signed by JEGANATHAN AMMASI Date: 2024.07.22 15:50:04 +05'30'

13.Legal approach to the property as per documents (clear / not clear)			Not clear
14.Any other features like board of other financier indicating mortgage, notice of court/any authority which may affect the security			Cholamandalam Finance Ltd.
PROPERTY DETAILS			
15.Occupant Status	Vacant / self-occupied / rented / self + rented		self-occupied
	Name of occupant		Mr. Rahul Sharma
	Relation with applicant		Self
16.Building details	Property demarcation (yes/no)		Yes
	Property identified (yes/no)		Yes
	Property identified through		Mr. Rahul Sharma
	Type of structure		Framed structure
	Land/plot area		**Item I -157.60, Item II-1089.60 =Total =1247 Sft**
	No of blocks if applicable		NA
	No of units on floor		One
	No. of floors		GF only
	No. of lifts		NA
	Delivery agency (public sector agency, co-operative society, pvt. builders, self-construction etc.)		Self-construction
17.Unit details	No. of rooms (1BHK / 2BHK / 3BHK)		2 BHK
	Parking facilities is available (Yes / No)		No
	Property located on floor number.		GF only
18.Age of the property	Underconstruction GF RCC Roof- 0 Years	Residual life	Underconstruction GF RCC Roof- 60 Years

JEGANATHAN AMMASI

Digitally signed by JEGANATHAN AMMASI
Date: 2024.07.22 15:50:34 +05'30'

	Under construction, new built (<1 years), 1 to 4 years, 5 to 10 years, 11 to 20 Years, 21 to 30 years, very old (>30 years), not applicable	GF RCC Roof- Under construction
19.Quality of construction (excellent / good / average / Nil / Not applicable)	Exteriors	Good
	Interiors	Good
20.Additional Property Details	Type of property (normal flat / duplex / penthouse / not applicable)	Normal flat
	Remarks on view / facing from property (normal view / sea or lake or river / garden or golf or monument / internal project / slums, lig / nalla or drain / cemetery or burial ground / not applicable)	Normal View

SANCTION PLAN APPROVAL & OTHER DOCUMENTS DETAILS	
21.Name of the sanctioning authority & sanction plan / cc / oc verification details with approval no	No
22.Ownership type (leasehold/ freehold)	Freehold
23.Property documents verified	1.Copy of **Gift Settlement deed** No **:4261/2016 , Dt.14/07/2016** in Favour of **Mr.E.Venkadesan S/O Mr.Elumalai**
24.Is the property within municipal limits	No
25.Permissible usage allows as per master plan	NA
26.Whether property under demolition list as per authority (yes/no)	No
27.Risk of demolition of the property (Nil / low / medium / high)	Low

28. Setbacks	As per plan / Bye laws	Actual at site	Deviation	Remarks, if any
Front		NA		
Side1(left)		NA		
Side2(right)		NA		
Rear		NA		

Area (in sq. ft.)

JEGANATHAN AMMASI

Digitally signed by JEGANATHAN AMMASI
Date: 2024.07.22 15:50:56 +05'30'

29. Carpet area as per documents	NA
Carpet Area as per sanction plan	NA
Carpet area as per measurement	NA
Built up area as per documents	NA
Built up area as per Sanction Plan	NA
Built up area as per Site	NA
Super builtup area as per documents	NA
Terrace / Garden area (If Applicable)	NA
Total area to considered	NA
Loading considered	NA
Deviations Details	
30.Usage deviations of property (yes / no)	No
Is property with horizontal deviation (0 to 50%, >50%, not applicable)	No
Is property with vertical deviation (1 floor, 2 floors, 3 & >3 floors, not applicable)	GF only
Tenement / multi units' deviation in the property (yes / No)	No
property is situated is in limits of (corporation limits, town municipality limits, gram panchayath limits, b-khatha (incase of bangalore))	Gram Panchayath limits
Is property within the buffer zones of lake & drains (lake, primary drain, secondary drain, tertiary drain, not applicable)	No

JEGANATHAN AMMASI

Digitally signed by JEGANATHAN AMMASI
Date: 2024.07.22 15:51:28 +05'30'

GT: cont | class: property_technical_report | pred: cont ✓

Is property in any caution location like (costal regulatory zone, conservancy zones, river line, below high-tension electric lines, monuments marked by archeological dept, negative areas community dominated areas, adjoining or opposite to aveyards, risk of demolish by road widening is notified, not applicable)		No	
Floor	**Sanctioned/Permissible/ FAR area in sft**	**Total Constructed Actual in sft**	**Deviation in %**
Stilt		-	
Underconstruction GF RCC Roof		1,010	
Total		**1009.68**	

VALUATION

(A)Description of constructed area and rates

31.property with land & building	Description	Actual Area (Sq.ft)	Rate (Rs. per Sq.ft)	Actual Amount
	Land Area	1247.00	1000.00	1247000.00
	Under Construction GF RCC Roof	1009.68	1620.00	1635681.60
	Less depreciation %			
For property with SBUA	Applicable / considered area			
			Sub total value of property	**2882681.60**
Stage of construction in %		Under construction-80%	Stage of recommendation in %	Under construction-80%

(B)Value of Extra Amenities if applicable

Car parking	PLC	IDC	EDC	Power backup	Other

JEGANATHAN AMMASI Digitally signed by JEGANATHAN AMMASI Date: 2024.07.22

GT: cont | class: property_technical_report | pred: cont ✓

AMMASI 15:51:46 +05'30'

Eb Connection,Septic Tank, Sump	**60000.00**
Total Amenities charges:	**60000.00**
Total market value of property as on date (A+B+C) (Actual Built-up Area)	**2942681.60**
Guideline value of the property	**350/ Square Feet**
Forced sale value (80%) (Actual Built-up Area)	**2354145.28**
Forced sale value (75%) (Actual Built-up Area)	**2207011.20**
Approx. rentals in case of 100% complete property	**-**

BOUNDARIES

32.Boundaries	EAST	WEST	NORTH	SOUTH
As per Deed	Chinnagoundar @ Mani Property	Seenivasan Property	E-W Panchayath Road, Sundharammal Remaining Property	Arunachalam Property
At site	Residential	Residential	Road, Property	Vacant Land
Boundaries matching	Yes			

Remarks-:

1. Property located at Gram Panchayath limits, Copy of Gift Settlement Deed is verified.
2. No Approved Layout and No Approved Building Plan
3. Surrounding development is Average since rate taken accordingly.
4. As per tnreginet.in the land Classification is mentioned as Mixed Type - II.
5. As per Site 14' wide Road Road is available.Since Rate Taken Accordingly
6. As per Actual, Underconstruction GF RCC Roof -80% of Building Works are Completed. So we considered 80% of Building Depreciation Value for Valuation.
7. EB Service Connection is Available.
8. As per Actual, the GF RCC Building area is Encroached on North and West Side, about(117.06 Sft) BUA is Encroached. So the Encroached Portion is Deducted from the Total Building area for Valuation.

(Authorized Signatory)

JEGANATHAN AMMASI Digitally signed by JEGANATHAN AMMASI Date: 2024.07.22 15:52:19 +05'30'

GT: cont | class: property_technical_report | pred: cont ✓

GUIDELINE VALUE

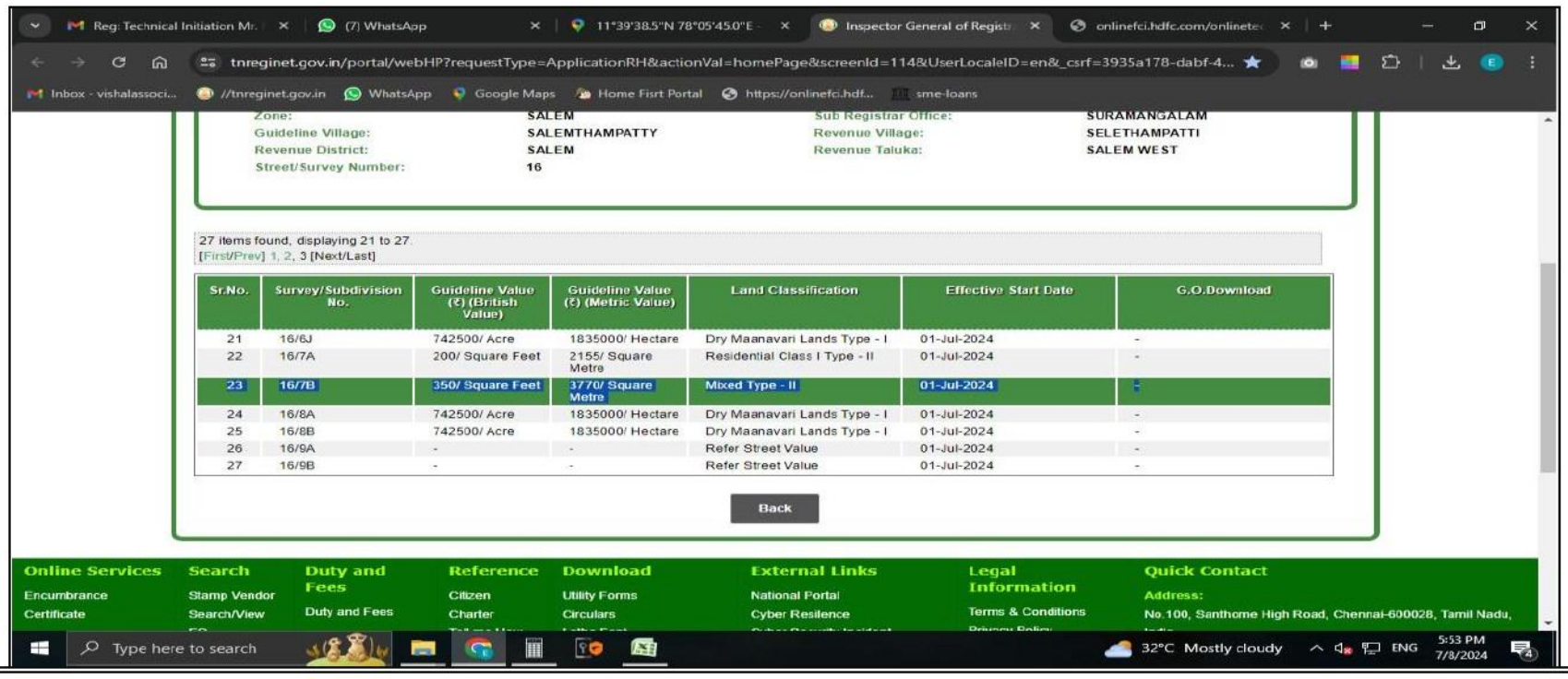

Zone: SALEM
Sub Registrar Office: SURAMANGALAM
Guideline Village: SALEMTHAMPATTY
Revenue Village: SELETHAMPATTI
Revenue District: SALEM
Revenue Taluka: SALEM WEST
Street/Survey Number: 16

27 items found, displaying 21 to 27.
[First/Prev] 1, 2, 3 [Next/Last]

Sr.No.	Survey/Subdivision No.	Guideline Value (₹) (British Value)	Guideline Value (₹) (Metric Value)	Land Classification	Effective Start Date	G.O.Download
21	16/6J	742500/ Acre	1835000/ Hectare	Dry Maanavari Lands Type - I	01-Jul-2024	-
22	16/7A	200/ Square Feet	2155/ Square Metre	Residential Class I Type - II	01-Jul-2024	-
23	16/7B	350/ Square Feet	3770/ Square Metre	Mixed Type - II	01-Jul-2024	-
24	16/8A	742500/ Acre	1835000/ Hectare	Dry Maanavari Lands Type - I	01-Jul-2024	-
25	16/8B	742500/ Acre	1835000/ Hectare	Dry Maanavari Lands Type - I	01-Jul-2024	-
26	16/9A	-	-	Refer Street Value	01-Jul-2024	-
27	16/9B	-	-	Refer Street Value	01-Jul-2024	-

Back

LOCATION MAP

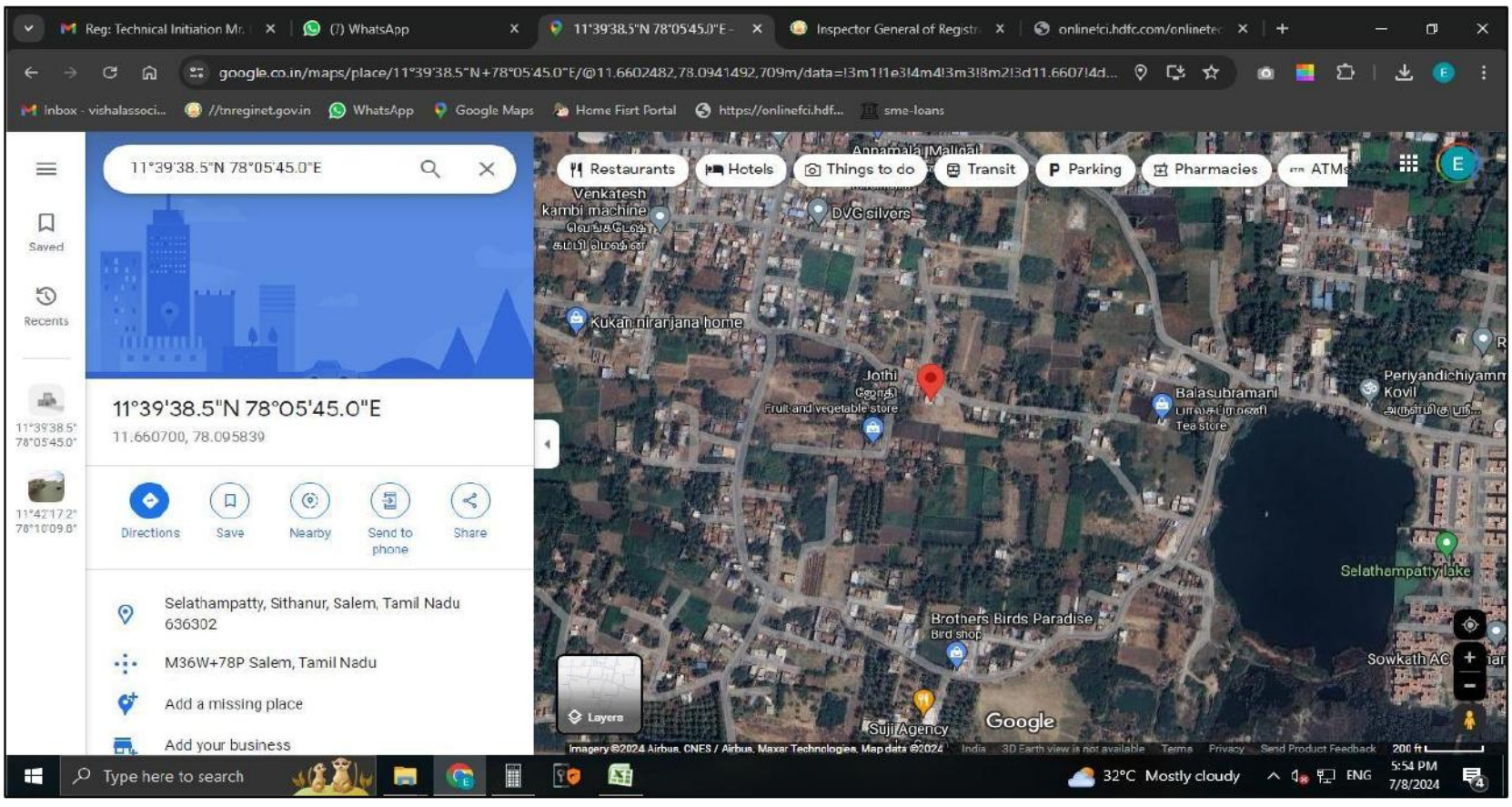

PROPERTY PHOTOS

JEGANATHAN AMMASI

Digitally signed by JEGANATHAN AMMASI
Date: 2024.07.22 15:52:58 +05'30'

GT: cont | class: property_technical_report | pred: cont ✓



JEGANATHAN AMMASI

Digitally signed by JEGANATHAN AMMASI
Date: 2024.07.22 15:53:17 +05'30'